DERHAM INSIGHTS RESEARCH

When *knowing* will strengthen your decisions...

SAINT ANN'S SCHOOL

DEAKIN UNIVERSITY

Phase 2: Preliminary recommendations for Saint Ann's

Demand Mapping & Shortlist Insights

DERHAM INSIGHTS RESEARCH
When *knowing* will strengthen your decisions.

SAINT ANN'S SCHOOL

DEAKIN UNIVERSITY

What Were Investigated

1

School-aged children

Australian Bureau of Statistics

1 Census - employment, income and education
(UR) by AGE5P Age in Five Year Groups
nting: Person Records

rs:
ult Summation Person Records

5P Age in Five Year Groups	5-9 years	10-14 years	0-4 years

2

Household income

Australian Bureau of Statistics

2021 Census - selected dwelling characteristics
SA2 (EN) by HIND Total Household Income (weekly)
Counting: Dwelling Records

Filters:
Default Summatio Dwelling Records

HIND Total Household Income (weekly)	$3,000-$3,499 ($156,000-	$3,500-$3,999 ($182,000-	$4,000-$4,499 ($208,000-

3

Human capital (Occupation)

Australian Bureau of Statistics

2021 Census - employment, income and education
SA2 (UR) by 1-digit level OCCP Occupation
Counting: Person Records

Filters:
Default Summation Person Records

1-digit level OCCP Occupation	Managers	Professionals

4

Human capital (Degree)

Australian Bureau of Statistics

1 Census - employment, income and education
(UR) by 1-digit level QALLP Non-School Qualification: Level of Education
nting: Person Records

rs:
ult Summation Person Records

it level QALLP Non-School ification: Level of Education	Certificate Level	Advanced Diploma and	Bachelor Deg Level

5. Market Size

Why We Chose These Indicators?

- **Household Income** → Families who can afford independent schooling fee
- **% Children (0–14 yrs)** → Indicates demand now and in the near future
- **% Degree Qualified Adults** → Reflects value placed on education
- **% Managers & Professionals** → Often seek holistic, high-quality learning environments
- **Sufficient Market Size** → Enough families to support enrolment & operations

DERHAM INSIGHTS RESEARCH
When *knowing* will strengthen your decisions...

SAINT ANN'S SCHOOL

DEAKIN UNIVERSITY

How We Evaluated The Suburbs

Suburbs	State	HighI_Pas	Age_Pa	Degree_Pa	ManProf_Pa	Size_Pass	TotalPasses
BRAIDWOOD	New South Wales	0	0	0	0	0	0
KARABAR	New South Wales	0	1	0	0	1	1
QUEANBEYAN	New South Wales	0	0	0	0	1	0
QUEANBEYAN - EAST	New South Wales	0	0	0	0	0	0
QUEANBEYAN WEST - JERRABOMBERRA	New South Wales	1	1	0	1	1	3
BRISBANE PORT - LYTTON	Queensland	1	1	1	1	0	4
QUEANBEYAN SURROUNDS	New South Wales	1	1	0	1	1	3
BOMBALA	New South Wales	0	0	0	0	0	0
COOMA	New South Wales	0	0	0	0	1	0
COOMA SURROUNDS	New South Wales	0	0	0	0	0	0

Threshold	
P75_%HighI	26%
P50_%Age014	18%
P75_%Degree	51%
P75_%ManProf	45%
Min_Total_HHs	3000

- Set thresholds (e.g. top 25% or median) for 4 key indicators: *% of High-Income Households; % of Children aged 0-14; % of Degree-Qualified Adults; % in Managerial/Professional Roles*
- Each suburb earned a pass (1) or fail (0) for each feature.
- Suburbs with at least 3000 households were kept for scale.
- Added up the "passes" - total score out of 4.

Method 1: Excel Pass Count

How We Evaluated The Suburbs

Suburbs	State	HighI_Pas	Age_Pa	Degree_Pa	ManProf_Pa	Size_Pass	TotalPasses
THIRROUL - AUSTINMER - COALCLIFF	New South Wales	1	1	1	1	1	4
BAULKHAM HILLS - EAST	New South Wales	1	1	1	1	1	4
BAULKHAM HILLS (WEST) - BELLA VISTA	New South Wales	1	1	1	1	1	4
CASTLE HILL - NORTH	New South Wales	1	1	1	1	1	4
CASTLE HILL - SOUTH	New South Wales	1	1	1	1	1	4
CHERRYBROOK	New South Wales	1	1	1	1	1	4
KELLYVILLE - EAST	New South Wales	1	1	1	1	1	4
KELLYVILLE - WEST	New South Wales	1	1	1	1	1	4
BOX HILL - NELSON	New South Wales	1	1	1	1	1	4
NORTH KELLYVILLE	New South Wales	1	1	1	1	1	4
ROUSE HILL - BEAUMONT HILLS	New South Wales	1	1	1	1	1	4

- We filtered suburbs that got a perfect 4/4 score on all selected indicators.
- 89 suburbs passed all four + size pass => are top-performing based on raw criteria thresholds.

-> Helps us narrow down from 2500+ areas to a focused short list.

How We Evaluated The Suburbs

Method 2: Python Weighted Ranking

Suburb	State	HI_Cou	Score_size	ALL_TOP25	Rank
PYMBLE	New South Wales	2956	0.959769544	TRUE	1
LINDFIELD - ROSEVILLE	New South Wales	4069	0.957134197	TRUE	2
BALGOWLAH - CLONTARF - SEAFORTH	New South Wales	3651	0.95284908	TRUE	3
CASTLE COVE - NORTHBRIDGE	New South Wales	2485	0.94890625	FALSE	4
ST IVES	New South Wales	3425	0.94835232	TRUE	5
WILLOUGHBY	New South Wales	2091	0.936489339	TRUE	7
NORTH KELLYVILLE	New South Wales	2533	0.935237249	TRUE	8
KELLYVILLE RIDGE - THE PONDS	New South Wales	3067	0.934765364	TRUE	9
LANE COVE	New South Wales	2730	0.927297241	FALSE	11
WAHROONGA (EAST) - WARRAWEE	New South Wales	2979	0.926544732	FALSE	12
GREENWICH - RIVERVIEW	New South Wales	2488	0.924405309	FALSE	13
SCHOFIELDS - EAST	New South Wales	3116	0.920704431	TRUE	16

- Each suburb has given a score based on how strong it was in key areas
- Better-performing suburbs got higher scores
- “All_Top25”: call out which suburbs truly stand out across all key indicators (income, kids education, occupation)

Allowed to:

- Compare and rank suburbs, even when they were close in performance
- Find the best overall matches – not just those that barely passed a checklist

Our Chosen Geographic Areas: Why we choose SA2?

SA1	SA2	SA3
SA1 = Zoomed in (Too Small) - A few streets or one neighbourhood - Highly detailed, but not suitable for school-level planning	**SA2 = Just Right (Our Focus)** - Group of neighbourhoods that form a local community - People live, work, and attend school within this area - Ideal for identifying family and school demand zones	**SA3 = Zoomed out (Too Broad)** - Covers entire councils or districts - Useful for state-wide policy, but not local targeting

What We Found

- Clean dataset covering ~2,500 SA2 suburbs
- Final shortlist of ~100 suburbs that passed our filters
- NSW emerged as dominant: consistent top performers in both methods
- Clear geographic clusters (Upper North Shore, Lower North Shore, Hill District)- Sydney

-> A campus would serve a whole catchment, not just one SA2

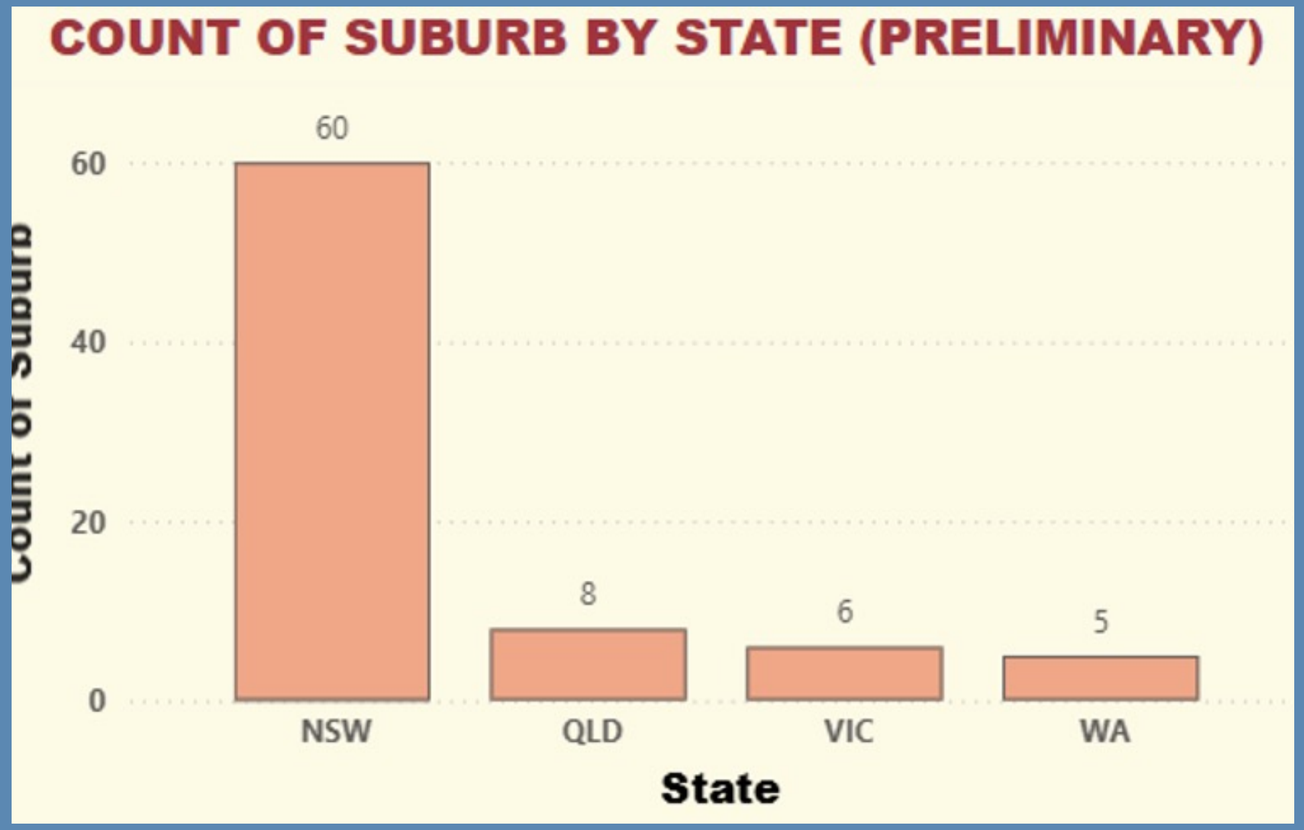

What We Found

The list generated from pass count method in Excel gives ~90% match with Python shortlist

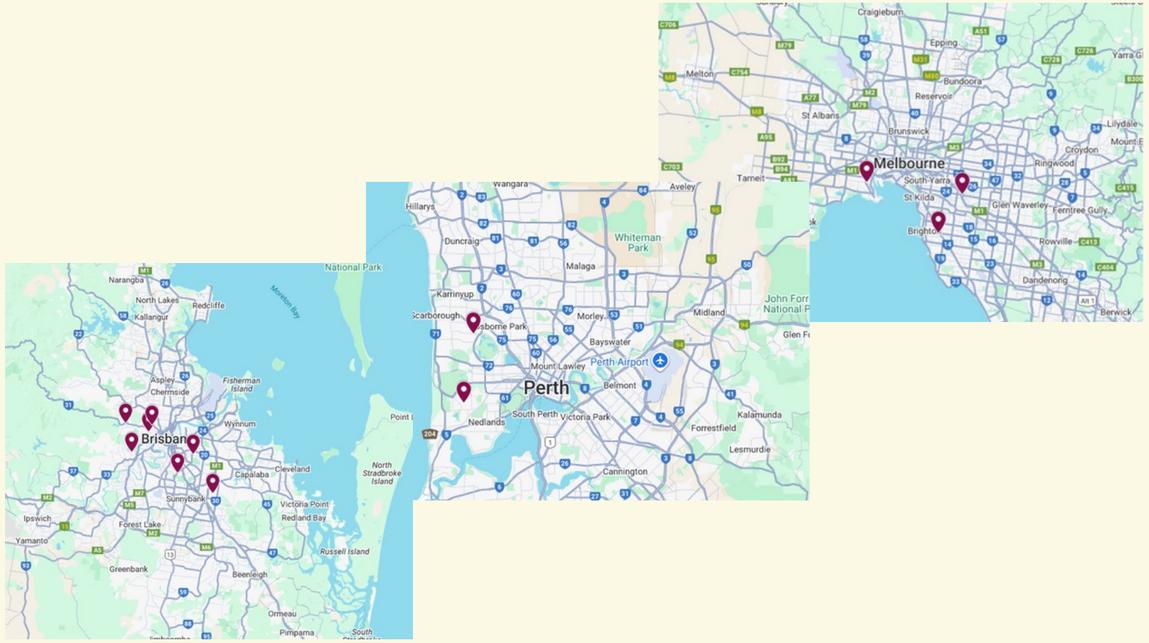

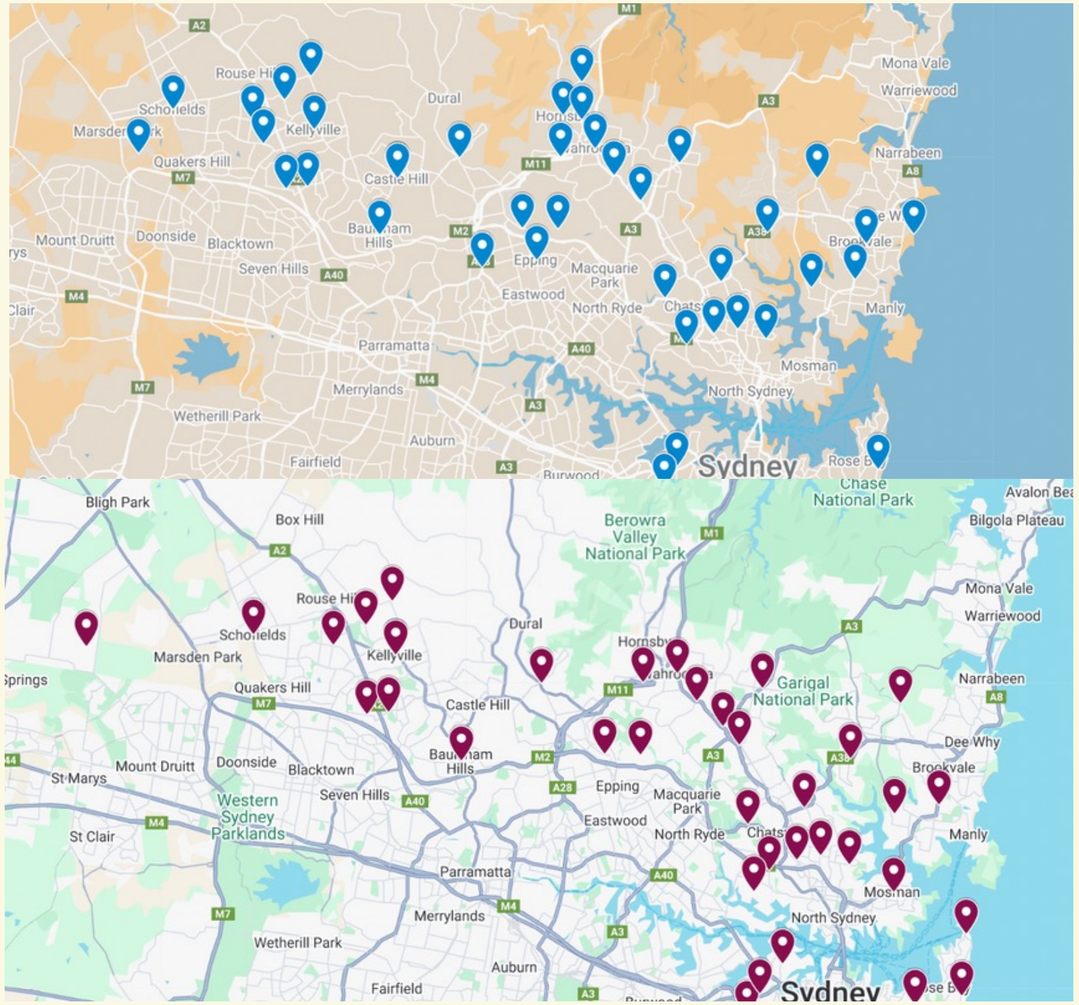

DERHAM INSIGHTS RESEARCH
When *knowing* will strengthen your decisions.

SAINT ANN'S SCHOOL

DEAKIN UNIVERSITY

Hills District
Rouse Hill, North Kellyville, Beaumont Hills, Kellyville, Norwest, Baulkham Hills, Castle Hill, Bella Vista.

Upper North Shore
Wahroonga, Turramurra, St Ives, Pymble

Lower North Shore:
Roseville, Chatswood, Mosman, Lane Cove, Artamon

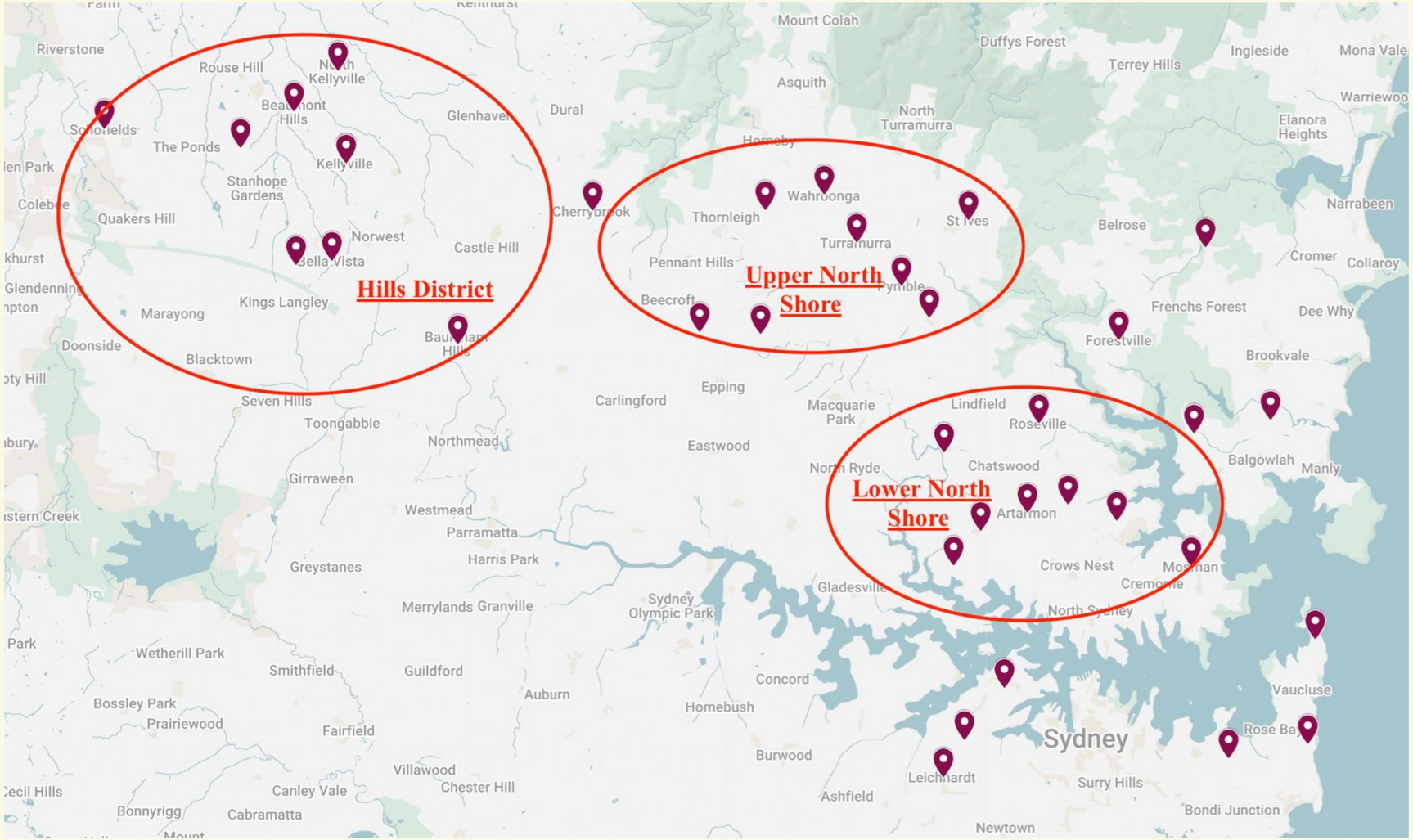

What The Results Mean (and Don’t Mean)

✅ **What this phase tells us:**

- *Demand-side suitability*
- *Affluent, educated families with school-aged children*
- *Areas that align with Saint Ann’s values*

⚠️ **What it doesn’t tell us yet:**

- *Transport access*
- *Local school competition*
- *Infrastructure and land feasibility*

DERHAM INSIGHTS RESEARCH
When knowing will strengthen your decisions.

SAINT ANN'S SCHOOL

DEAKIN UNIVERSITY

Understanding the Political Landscape

✅Opportunities

- *Strong US-Australia educational ties*
- *Government funding supports private/independent schools*
- *Multicultural & inclusive education policies*
- *Structured foreign investment policies*
- *National focus on educational equity*

⚠️Challenges

- *Regulatory complexity & time-consuming compliance*
- *Public sensitivity toward foreign private schools*
- *Geopolitical risks (e.g., US policy influence)*
- *Curriculum alignment with Australian standards*

Where We Go From Here

Focus on NSW (especially Greater Sydney) for deeper research

Reasons:

- Most promising clusters
- Strong demographic alignment
- Feasible to deliver campus-level insights with higher accuracy

Alternative: Keep other states in view, but prioritize depth over spread

Next Phase Plan

What we'll analyse next:

- Accessibility & commute
- Competitors & education landscape
- Infrastructure & amenities
- Real estate trends
- Cultural values & sentiment

DERHAM INSIGHTS RESEARCH
When knowing will strengthen your decisions...

SAINT ANN'S SCHOOL

DEAKIN UNIVERSITY

We welcome your input on:

- *Whether to focus exclusively on Sydney or not*
- *How you'd like us to visualise or profile the shortlisted areas*
- *Any specific questions or priorities you want us to include*

THANK YOU